VEHICLE COLLISION IN NEW YORK CITY (2025)

New York City is one of the largest and busiest cities in the world, with millions of people moving daily across its streets as motorists, pedestrians, and cyclists. This scale of activity makes road safety a critical public concern.
This dashboard provides an analytical view of reported motor vehicle collisions across New York City, using official crash data recorded by law enforcement. It explores collision trends over time, casualty outcomes, road user groups involved, and contributing factors to crashes.

Note: Some recorded incidents are without complete/fully-detailed information. Where applicable, these are clearly represented to ensure transparency and data integrity.

COLLISIONS

85.54K

BROOKLYN

HIGHEST COLLISION BOROUGH

CASUALTIES

49.85K

From a total of 292,016 individuals involved in collisions, 49,854 people were recorded as casualties, with a fatality rate of 0.27%.

VEHICLES

169.99K

With an average of 1.99 vehicles involved in crashes; only 56.98% of drivers were reported licensed. Top leading factors are inattention, failure to yield, and following too closely.

VEHICLE COLLISION IN NEW YORK (2025)

Home | **Collisions** | Casualties | Vehicles

COLLISIONS

An overview of collision occurrence, geographic distribution, and frequency

BRONX | BROOKLYN | MANHATTAN | NOT SPECIFIED | QUEENS | STATEN ISLAND

Month
Feb

Total Collision

5.99K

▼-7.6% vs PM

How often do collisions happen?

Avg Collision per Day
213.86

Avg Collision Interval
6.73 mins

Total Collision by Borough

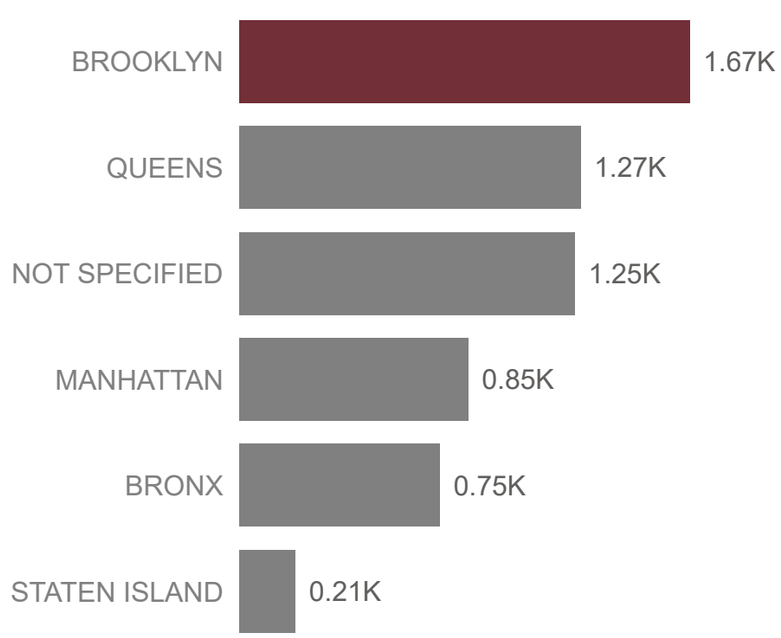

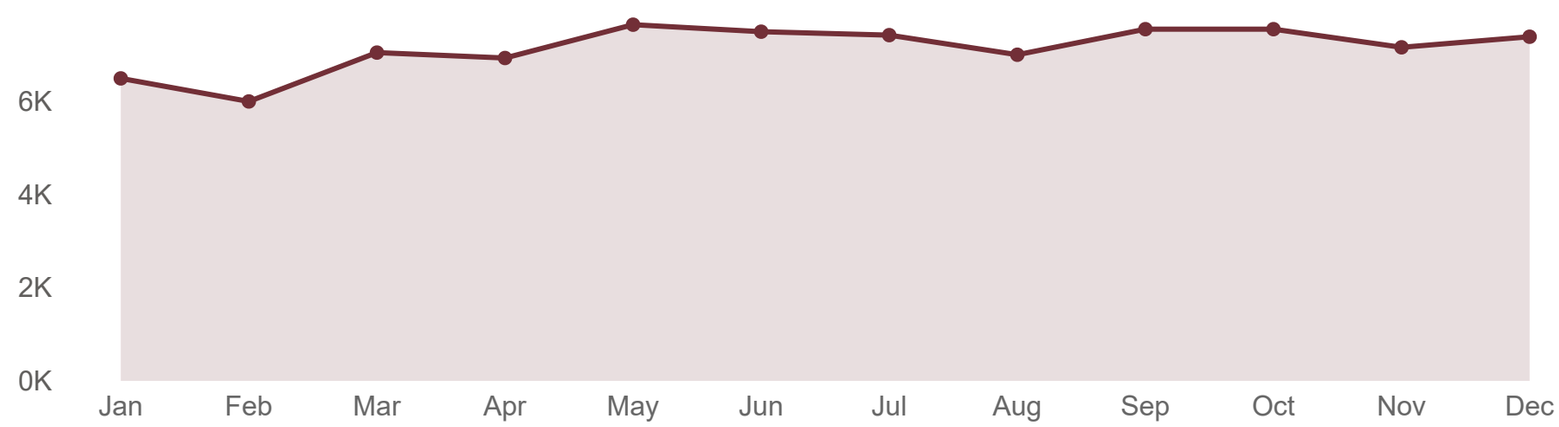

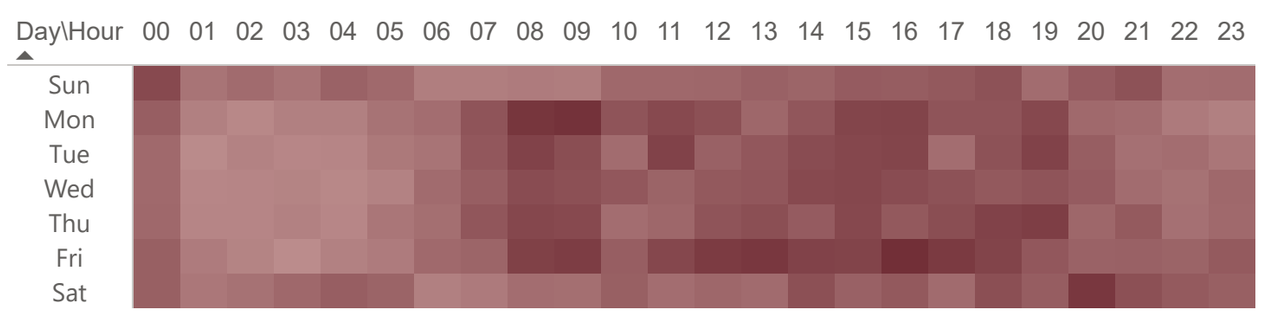

Collision Details

COLLISION_ID	BOROUGH	CRASH DATETIME	VEHICLES INVOLVED	PERSONS INVOLVED	TOTAL PERSONS INJURED	TOTAL FATALITIES	PRIMARY CAUSE
4783162	BROOKLYN	1/1/2025 12:00:00 AM	2	1	1	0	Failure to Yield Right-of-Way
4784100	BRONX	1/1/2025 12:00:00 AM	2	8	0	0	View Obstructed/Limited
4784924	BROOKLYN	1/1/2025 12:00:00 AM	2	5	0	0	Unspecified
4785249	BRONX	1/1/2025 12:00:00 AM	2	1	0	0	Unspecified
4785990	BROOKLYN	1/1/2025 12:00:00 AM	2	2	0	0	Unspecified
4783206	NOT SPECIFIED	1/1/2025 12:05:00 AM	2	7	5	0	Shoulders Defective/Improper
4783278	QUEENS	1/1/2025 12:08:00 AM	2	2	0	0	Unsafe Speed
4784893	STATEN ISLAND	1/1/2025 12:15:00 AM	2	3	1	0	Unspecified
4786578	MANHATTAN	1/1/2025 12:15:00 AM	2	8	0	0	Driver Inattention/Distraction
4784191	MANHATTAN	1/1/2025 12:16:00 AM	1	3	0	0	Unspecified

VEHICLE COLLISION IN NEW YORK CITY (2025)

Home | Collisions | **Casualties** | Vehicles

CASUALTIES

An overview of casualties and the likelihood of injury or fatality resulting from collisions

BRONX | BROOKLYN | MANHATTAN | NOT SPECIFIED | QUEENS | STATEN ISLAND

Month: Feb

Total Casualties	Persons Involved	Total Persons Injured	Number of Fatality
3.11K	20.43K	3.09K	17
Casualty Rate: 15.20%	In Vehicle: 19.32K	Injury Rate: 51.57%	Fatality Rate: 0.28%
Highest Month: Feb	Outside Vehicle: 1.11K		

Casualty Trend & Fatality Rate

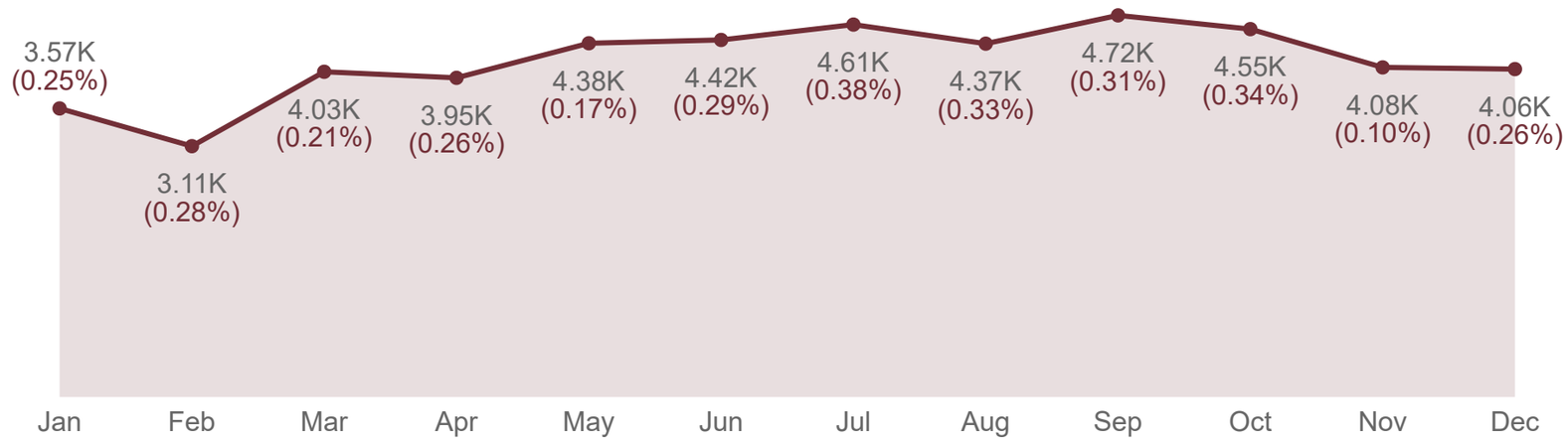

Total Casualties by Borough

Number of casualties alongside fatality rate

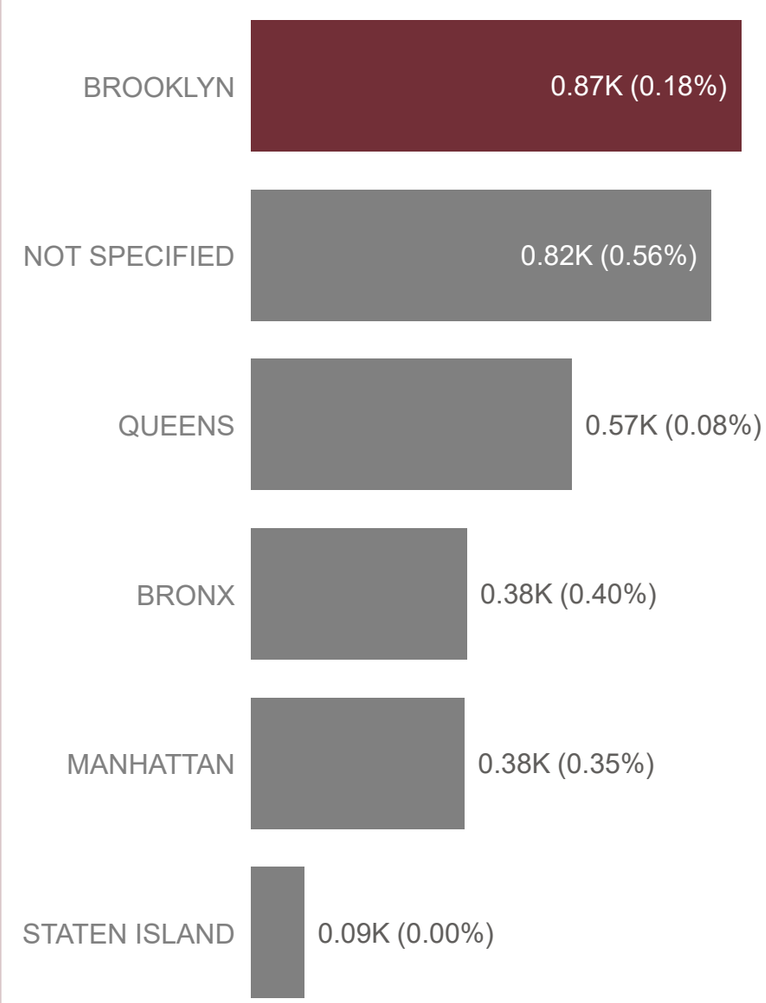

Casualties by Person Category

Affected road users and outcome

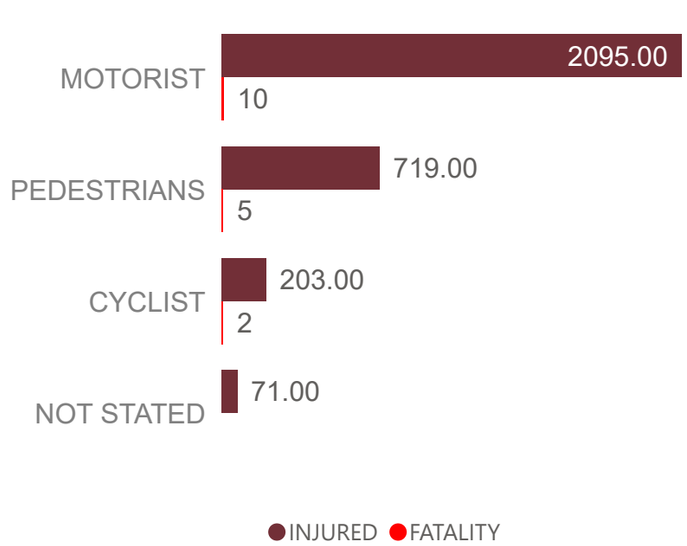

Fatalities by Borough

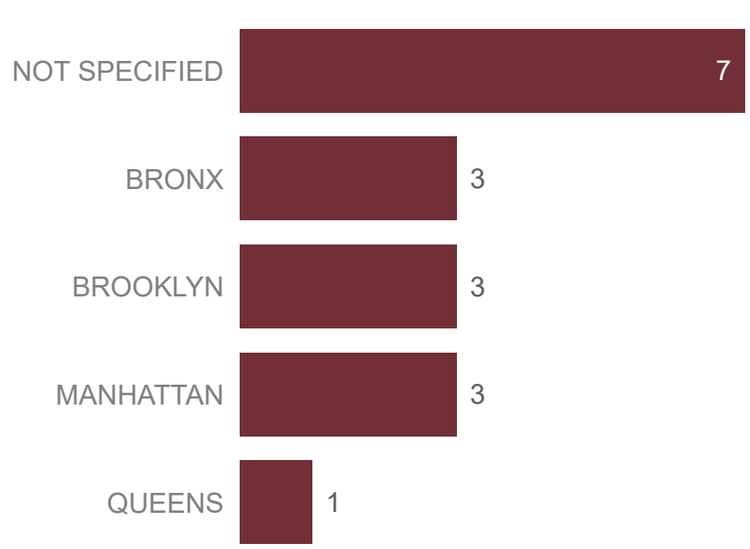

VEHICLE COLLISION IN NEW YORK CITY (2025)

Home | Collisions | Casualties | **Vehicles**

VEHICLES

An overview of vehicles involved, probable causes and contributing factors

BRONX | BROOKLYN | MANHATTAN | NOT SPECIFIED | QUEENS | STATEN ISLAND

Month: Feb

Total Vehicles Involved

11.81K

Avg Vehicle Involved per Collision

1.97

Top Vehicles Categories Involved

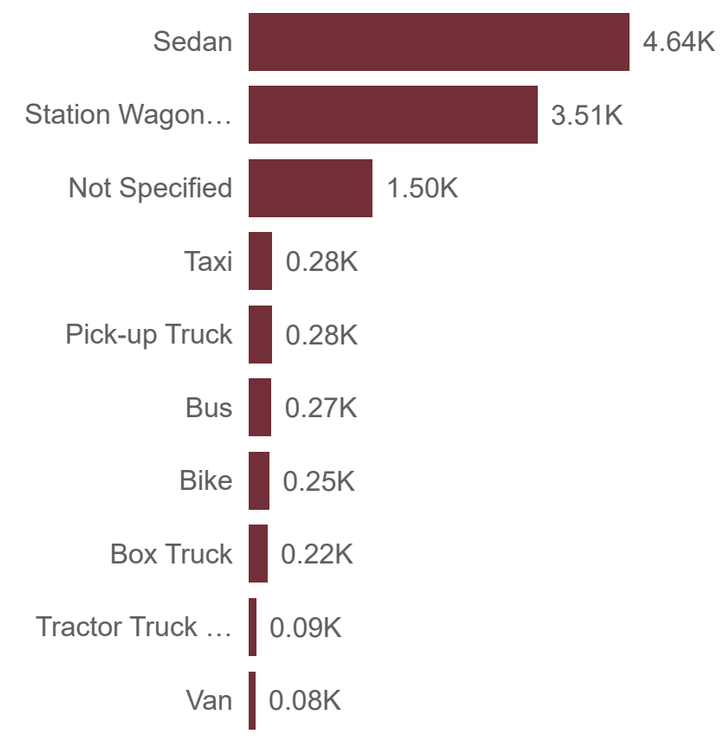

Driver License Status of Vehicles Involved

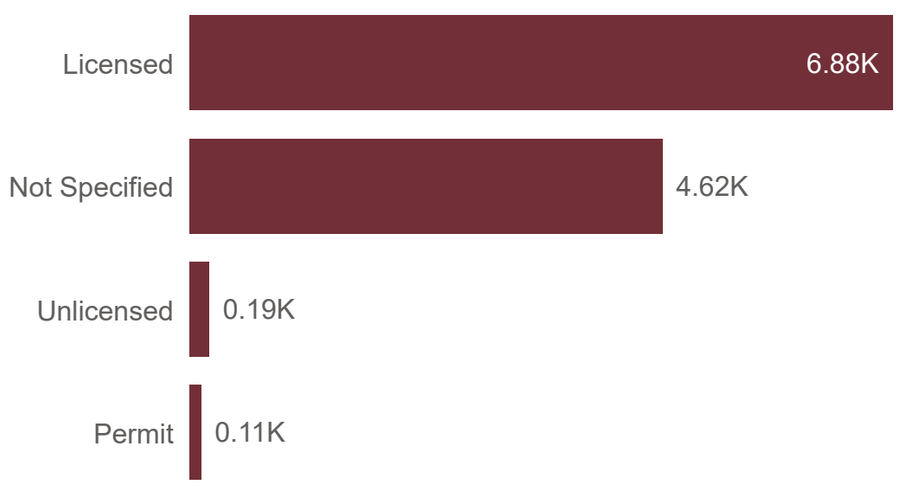

Driver Sex of Vehicles Involved

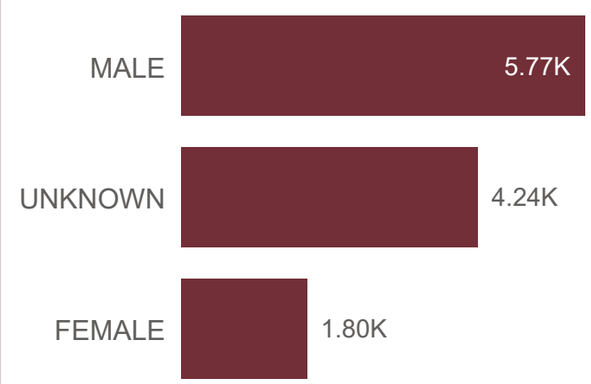

Top Pre-Crash Actions of Vehicles Involved

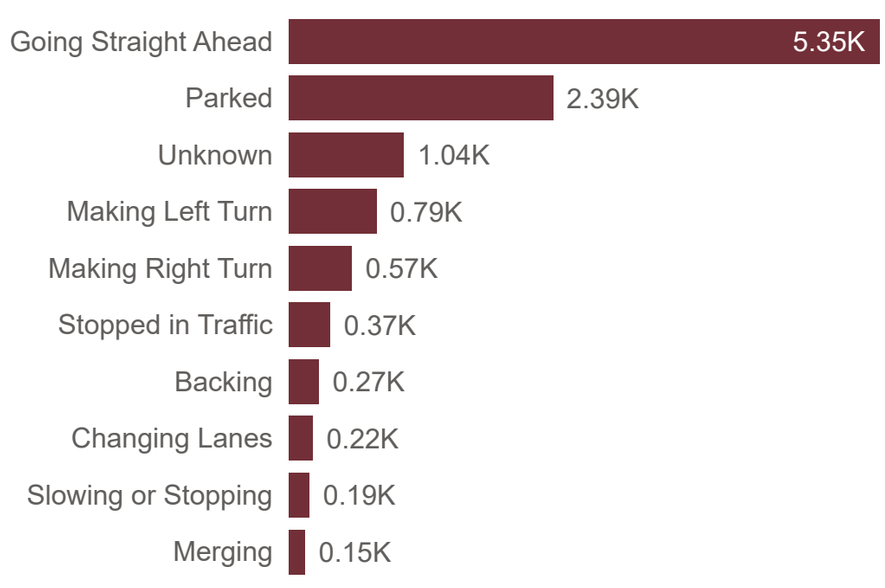
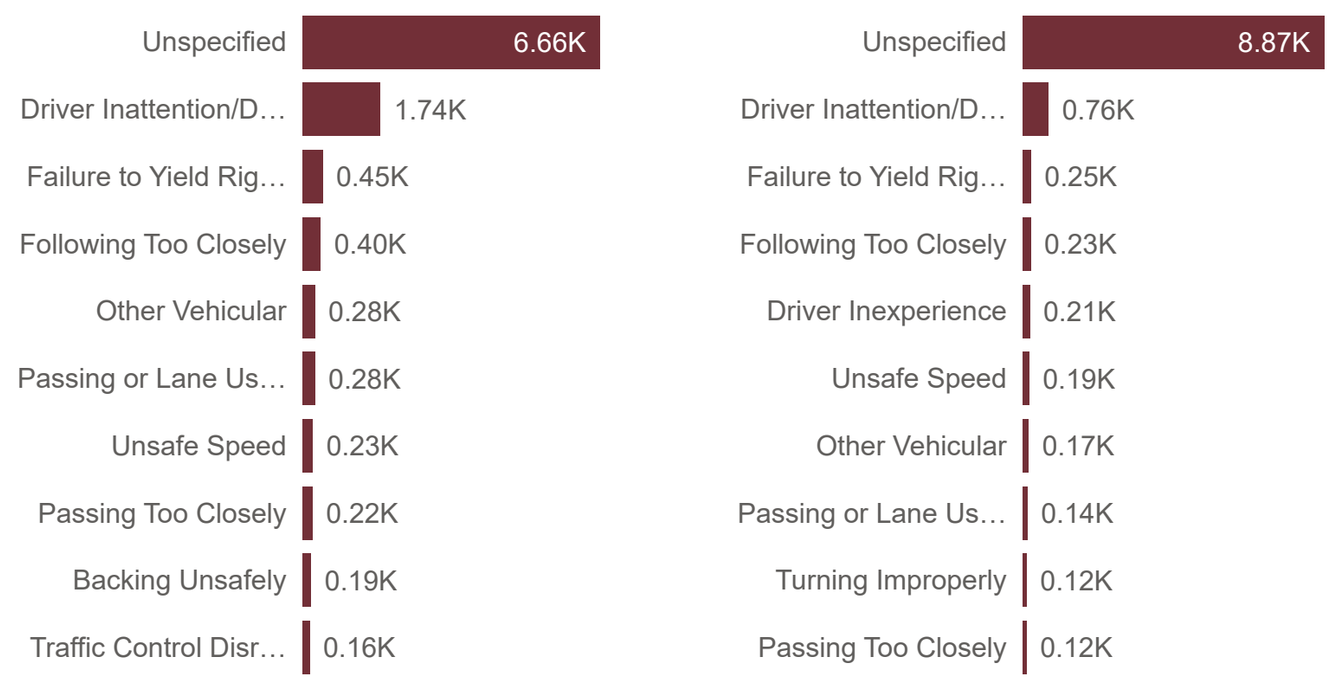
Contributing Factors of Vehicle 1 and 2